A SURVEY OF DEEP LEARNING-BASED SMALL OBJECT DETECTION FOR UAV-BORNE IMAGES

WANG Yurui
School of Information Engineering, North China University of Water Resources and Electric Power, Zhengzhou 450046, China

Abstract.

The sharp gaze of modern technology finds its most dynamic expression in unmanned aerial vehicles (UAVs)—autonomous systems that have transcended novelty to become indispensable instruments for environmental monitoring, disaster response, precision agriculture, and urban coordination [1, 2, 3]. Within this realm of visual data lies a persistent and formidable challenge: the reliable detection of minute objects—handful of pixels in the sprawling canvas of a wide altitude image [4]. The significance of mastering this challenge cannot be overstated; the ability to accurately identify and track such small targets underpins the very utility of UAVs in mission-critical scenarios [5, 6].

Keywords:UAV;small object detection;deep learning;aerial imagery;feature fusion

1. Introduction

The rapid proliferation of unmanned aerial vehicles (UAVs) has revolutionized aerial imaging, offering unprecedented access to vast geographical areas and capturing intricate details invisible from the ground [1, 2]. Yet, within this wealth of visual data lies a persistent and formidable challenge: the reliable detection of minute objects—handful of pixels in the sprawling canvas of a wide altitude image [4]. The significance of mastering this challenge cannot be overstated; the ability to accurately identify and track such small targets underpins the very utility of UAVs in mission-critical scenarios, from locating survivors amidst rubble to pinpointing pest infestations in sprawling fields or monitoring illicit border activity [5, 6].

The domain of small object detection within UAV imagery is fraught with inherent difficulties that significantly complicate algorithmic performance. Foremost among these hurdles lies the fundamental issue of low resolution: small objects, captured

from significant altitudes, occupy a particularly limited number of pixels. This severe pixel scarcity drastically restricts the availability of distinctive visual features—texture, shape, color gradients—that deep learning models typically rely on for accurate identification and localization. Compounding this challenge is the phenomenon of scale variability, influenced by background noise, shadows, or irrelevant clutter. Confronting this problem is the pronounced scale variability endemic to UAV operations—the drone's altitude fluctuates, whether by design during a survey or due to environmental factors—the apparent size of the same object class can vary dramatically across consecutive frames or even within a single image. This inherent scale variability demands detection algorithms capable of robust performance across a vast continuum of object scales, without prior knowledge of the UAV's exact height.

Adding another layer of complexity are the often cluttered and complex backgrounds characteristic of real-world UAV deployments. Unlike controlled laboratory environments, aerial images capture the chaotic tapestry of the real world: dense urban landscapes teeming with structures and vehicles, agricultural fields with confusing textures, or forested regions where leaves and branches create visual noise. These real-world elements frequently trigger false positives or merge with actual targets, overwhelming high-frequency details. Partial or complete occlusion is a frequent occurrence: vehicles might be momentarily hidden by a tree branch, a pedestrian obscured by a street sign, or agricultural equipment partially concealed by vegetation. These occlusions further fragment the already limited visual cues available for the target object, presenting a significant challenge for detection algorithms.

Traditional computer vision techniques, often reliant on handcrafted features and sliding windows, demonstrate struggle against these formidable challenges. Their rigidity and limited representational power render them inadequate for handling the extreme variability, low signal-to-noise ratio, and contextual complexity inherent in UAV-based small object detection. This is where the paradigm-shifting power of deep learning enters the fray. Over the past two decades, object detection has evolved from handcrafted pipelines to CNN-based and transformer-based paradigms, with extensive reviews summarizing key milestones and trends [7]. Deep learning models, particularly convolutional neural networks (CNNs) and increasingly sophisticated transformer architectures, offer a compelling solution. Their remarkable ability to automatically learn hierarchical feature representations directly from vast amounts of raw data makes them uniquely suited to this task. Even training on diverse and challenging datasets, these models can learn to discern subtle, abstract patterns indicative of small objects, even amidst significant background clutter and despite minimal pixel representation. They excel at capturing contextual cues, leveraging information from surrounding areas to bolster confidence in the presence of an obscured or ambiguous target. The capacity for multi-scale feature extraction is another hallmark of advanced deep learning architectures, directly addressing the core issue of scale variability. Through innovative architectural designs like Feature Pyramid Networks (FPN) [8] and attention mechanisms [9, 10], these algorithms

dynamically focus on relevant regions while suppressing background noise, significantly improving localization precision.

This review paper endeavors to provide a comprehensive exploration of the rapidly evolving landscape of deep learning-based small object detection specifically tailored for UAV aerial imagery. Recognizing the critical importance of this capability for unlocking the full potential of aerial platforms, we will dissect the unique hurdles presented by the aerial domain, categorize and evaluate the prominent deep learning approaches applied to this problem, including the efficiency-driven single-stage detectors [11, 12], the accuracy-focused two-stage detectors [13], and the increasingly influential transformer-based models [14, 15, 16]. The discourse then shifts to examining key enhancement strategies crucial for boosting small object detection performance, encompassing sophisticated data augmentation [17] and synthetic data generation techniques to alleviate the scarcity of training examples, advanced multi-scale feature fusion mechanisms like Feature Pyramid Networks [8, 18], and attention modules to amplify weak signals and essential post-processing refinements to improve localization precision. We further review the standardized evaluation metrics and the most relevant benchmark datasets specific to the UAV small object detection domain, including VisDrone [19, 20] and DOTA [21]. To illustrate the tangible impact of these technological advances, compelling real-world applications in precision agriculture [6], search and rescue [5], and urban monitoring will be examined. Finally, we chart promising future research directions, identifying areas where further innovation is urgently needed to achieve robustness, efficiency, and new levels of performance for UAV-based perception systems operating in increasingly complex and demanding environments.

2.Challenges in Small Object Detection for UAV Images

2.1 Low Resolution and Scale Variability

The very essence of small object detection in UAV imagery is intrinsically tied to a fundamental paradox: the bird's-eye view that grants unparalleled coverage simultaneously becomes its Achilles' heel regarding target discernibility. Small objects—vehicles, pedestrians, or specific crop anomalies—often appear as mere clusters of indistinct pixels, sometimes occupying less than 32x32 pixels within the vast canvas captured by the drone's sensor [4]. This pixel scarcity drastically limits the amount of visual information available: fine-grained details like texture, shape, and distinctive features become indistinguishable. Imagine trying to identify a specific model of car based on overhead footage where it manifests as a vague rectangle of gray against a background of similar-toned pavement. The scarcity of pixels means the subtle distinguishing characteristics—license plates, transmission, or slight motion blur—can obliterate the already fragile signature of the target.

Compounding the problem of low resolution is the dynamic nature of scale variability, a direct consequence of the UAV's operational freedom. Unlike fixed

surveillance cameras, drones operate at a spectrum of altitudes—from soaring hundreds of meters above the ground to hovering mere 50 meters away. A vehicle that appears as a well-defined, clearly recognizable object when viewed from 50 meters appears large and well-defined; the same car, merely moments later viewed from 200 meters, shrinks dramatically, losing resolution and potentially appearing similar to background elements like air conditioning units or small sheds. This constant flux in scale creates a chaotic environment for detection models.

Traditional computer vision techniques, often reliant on fixed-scale feature extractors and sliding windows, lack the inherent adaptability needed to handle this continuous scale shift. A detector tuned for objects at 100m altitude will likely miss the same objects entirely when the drone ascends, or conversely, generate a deluge of false positives on background noise when descending too low. The "one-size-fits-all" approach is fundamentally incompatible with the fluid reality of UAV operations.

The advent of deep learning, ushered in powerful paradigms specifically engineered to combat these twin challenges. Multi-scale feature extraction, at the core of modern detection strategy, has been revolutionized by the introduction of Feature Pyramid Networks (FPN) [8]. FPN constructs an in-network feature pyramid with lateral connections, allowing the network to effectively detect objects at different scales by combining low-resolution, semantically strong features with high-resolution, semantically weaker features from earlier layers. Beyond FPN, the deep learning arsenal offers other potent weapons against scale and resolution challenges. High-resolution feature maps preserved through the network processing—rather than aggressive downsampling—prove particularly beneficial for preserving the fragile signals of small objects. Techniques involving dilated or deformable convolutions adapt the receptive field dynamically, allowing the network to "focus" its attention more effectively around potential small targets without being constrained by a rigid grid, gathering more relevant contextual information without excessive blurring. Another strategy takes the form of multi-scale training and testing, where the input image is processed at multiple scales simultaneously. This multi-branch processing ensures the network learns scale-invariant features. Specialized architectures for small objects have emerged, often incorporating dilated feature connections, attention modules that amplify small object signals [9, 10], or dedicated detection heads adapted specifically for tiny target scales. Efficient attention designs such as Coordinate Attention can embed positional information into channel attention and improve feature representation with limited overhead [22]. Data augmentation also plays a vital role. Strategic techniques like random cropping, tiling, and mosaic augmentation during training explicitly expose the model to a wider, more realistic variety of small object appearances and scales, significantly improving generalization to the unpredictable conditions encountered during actual UAV flights.

2.2 Complex Backgrounds and Occlusions

Navigating the visual complexities of UAV-captured imagery presents a formidable hurdle, particularly when targets are diminutive. The very essence of an

aerial perspective, while advantageous for coverage, often plunges detection algorithms into a chaotic sea of complexity. Imagine searching for a needle in a haystack, except the haystack is moving, and the needle periodically vanishes. Small targets in UAV images frequently confront detection systems amidst cluttered backgrounds and frequent occlusions inherent in drone-acquired scenes. These pervasive distractions don't merely add noise—they actively sabotage performance, demanding sophisticated countermeasures.

Cluttered backgrounds, overflowing with extraneous visual information, act as a relentless source of confusion and camouflage for small targets. Urban landscapes, viewed from above, perfectly mix the shapes and texture of concealed vehicles or personnel. Urban landscapes morph into bewildering mosaics of rooftops, parked cars, signage, and street furniture, each element potentially masquerading as the object of interest. Agricultural fields, with their repetitive patterns of crops, soil variations, and irrigation equipment, create a visual rhythm that easily swallows small anomalies like distressed livestock or unauthorized intruders. This visual cacophony overwhelms detection systems, causing a surge in false positives where benign background elements are erroneously tagged as targets, draining computational resources and eroding user trust. Simultaneously, genuine small targets, lacking distinctive features and sufficient pixel representation, become visually dissolved within this overwhelming context, leading to missed detections and reduced recall. The detector struggles to isolate the relevant signal (the small object) from the overwhelming noise (the background), a problem only amplified at lower resolutions typical of distant high-altitude captures.

3.Deep Learning-Based Approaches for Small Object Detection

3.1 Single-Stage Detectors

Fig. 1 The evolution of single-stage UAV small-object detectors

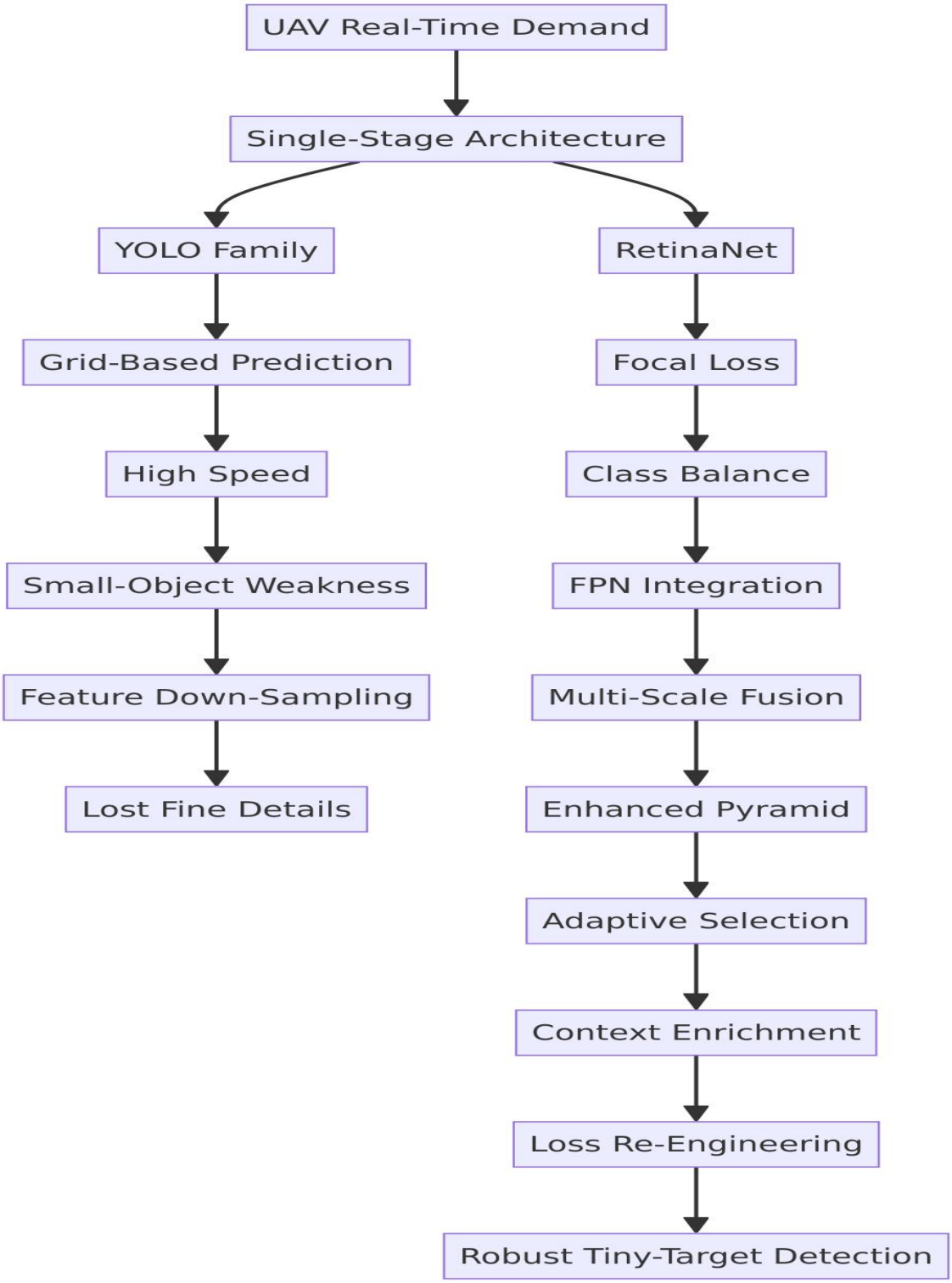
UAV Real-Time Demand
Single-Stage Architecture
YOLO Family
Grid-Based Prediction
High Speed
Small-Object Weakness
Feature Down-Sampling
Lost Fine Details
RetinaNet
Focal Loss
Class Balance
FPN Integration
Multi-Scale Fusion
Enhanced Pyramid
Adaptive Selection
Context Enrichment
Loss Re-Engineering
Robust Tiny-Target Detection

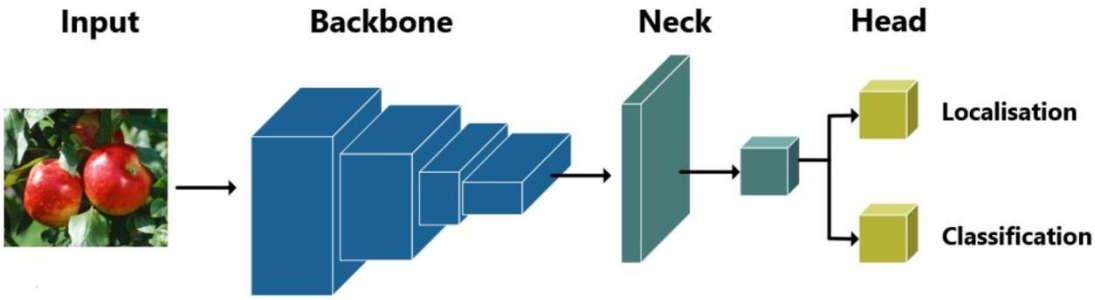

Fig.2 Basic Architecture Pipeline of Single-Stage Object Detectors

Single-stage detectors represent a significant niche within the UAV object detection landscape, perfectly aligned with the real-time operational demands of drones. Models like the YOLO (You Only Look Once) family [11, 12] and RetinaNet exemplify the vanguard of this approach. Their fundamental appeal lies in bypassing the computationally expensive proposal generation inherent to two-stage methods. Instead, they perform object localization and classification in a single, unified pass over the input image, predicting bounding boxes and class probabilities directly from the full image in one evaluation by a backbone network. This inherent efficiency makes them particularly well-suited for deployment on UAV platforms, where onboard computational resources are often constrained, and rapid decision-making is paramount, whether for dynamic obstacle avoidance, tracking fast-moving targets, or live monitoring needs.

Table. 1 YOLO Variant Comparison

Version	Date	Contributions	Framework
v1	2015	One-shot object detector	Darknet
v2	2016	Multi-scale training, dimensional clustering	Darknet
v3	2018	SPP block, Darknet-53	Darknet
v4	2020	Mish-based activation, CSPDarknet-53 backbone	Darknet
v5	2020	Anchor-free detection, SWISH-based activation, PANet	PyTorch
v6	2022	Self-attention, anchor-free object detection	PyTorch
v7	2022	Transformers, E-ELAN reparameterization	PyTorch
v8	2023	GANs, anchor-free detections	PyTorch
v9	2024	Programmable Gradient Information (PGI), Generalized Efficient Layer Aggregation Network (GELAN)	PyTorch
v10	2024	NMS-free training approach, dual label assignments, holistic model design for enhanced accuracy and efficiency	PyTorch

YOLO variants, evolving through iterations like YOLOv3, YOLOv4, YOLOv5, and the recent YOLOv7/v8/v9/v10/v12 [23, 24, 25], have consistently pushed the boundaries of speed and accuracy trade-offs. Their core strategy involves dividing the input image into a grid. Each grid cell becomes responsible for predicting a fixed number of bounding boxes and associated class confidences. This grid-based prediction, coupled with highly optimized network designs, allows YOLO models to achieve remarkable inference speeds—often processing dozens or even hundreds of frames per second on capable hardware. For UAVs navigating complex environments

or performing surveillance over large areas, this speed translates directly into heightened situational awareness and responsiveness. This streamlined approach harbors a critical vulnerability when it comes to small objects. For UAV scenarios, lightweight adaptations of YOLOv4 have been proposed to balance accuracy and speed under limited onboard resources [26]. The inherent downsampling within the convolutional backbone, necessary for achieving high-level feature extraction and computational efficiency, progressively erodes the spatial resolution of feature maps. As features are compressed and abstracted through successive layers, the minuscule details distinguishing small objects—a handful of pixels—become diluted or lost entirely in the deeper layers where the primary detection often occurs. A distant car or a small animal on a farm field might simply vanish into the background noise of a low-resolution feature map.

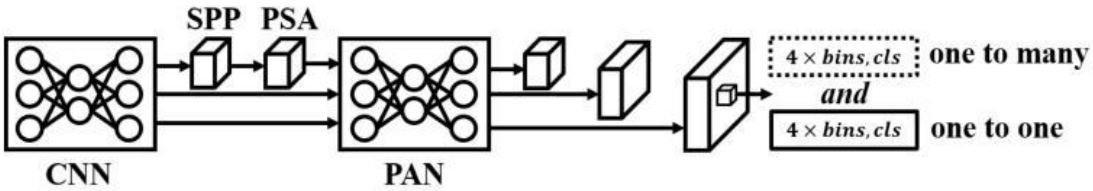

Fig. 3 Core Module Composition of YOLOv10 for UAV Small Object Detection

RetinaNet, introduced to address the class imbalance prevalent in object detection (where the vast majority of candidate locations are background), brought forth the Focal Loss [8]. This loss function dynamically down-weights the contribution of well-classified, easy examples during training, forcing the network to focus its learning capacity on the hard, misclassified ones—which frequently include small and occluded objects, thereby significantly improving accuracy, especially for challenging datasets. RetinaNet retains the single-stage efficiency. It typically employs a Feature Pyramid Network (FPN) [8] backbone, enabling the detector to leverage both high-resolution, semantically weak features (excellent for precise localization of small objects) and low-resolution, semantically strong features (excellent for recognizing object categories). This multi-processing is inherently more suited to the variable scales encountered in UAV imagery than a single-scale prediction grid.

The Achilles' heel of single-stage detectors in the UAV domain is undoubtedly their relative weakness in consistently and accurately detecting very small objects. The core limitation stems from the fundamental trade-off between speed and the preservation of high-resolution spatial information. The aggressive downsampling required for computational efficiency often comes at the cost of the fine-grained receptive fields critical for musculus targets. While excellent for capturing coarse details, the subtle visual cues defining musculus targets slip through the receptive fields. In the shallower, higher-resolution layers might be too small to capture sufficient contextual information for robust object recognition, making them easily confused with background texture or noise. The classic "needle in a haystack" problem is amplified exponentially here—the "needle" is only a few pixels and the "haystack" is a vast, complex aerial landscape. Recognizing these limitations, significant research efforts have focused on augmenting single-stage detectors

specifically for the small object challenge in UAV imagery. Among the most prominent and successful enhancement is the sophisticated integration of Feature Pyramid Networks (FPN) [8, 18]. Originally developed for RetinaNet but now widely adopted and refined within the YOLO ecosystem and beyond, the core idea is to leverage the inherent multi-scale pyramid of features generated by the backbone CNN (e.g., ResNet, DarkNet, CSPNet) but to enhance it by adding a top-down pathway with lateral connections. High-level, semantically rich features from deeper layers are upsampled and merged with higher-resolution, semantically weaker features from shallower layers, producing a pyramid of feature maps where each level possesses strong semantics "and" appropriate resolution for objects of a certain scale. Essentially, it provides the detector with a set of "magnifying glasses" of different strengths. If an object is extremely small, the detector can effectively "zoom in" by examining the feature map from a higher level of the pyramid. For instance, a small object, barely a few pixels at the original image scale, might be represented more robustly at a higher-resolution pyramid level (e.g., P3), where its features haven't been diluted by excessive pooling.

Beyond FPN, various architectural innovations have emerged to counter the small-object weakness. High-Resolution Networks (HRNet) or architectures that maintain high-resolution representations throughout the network processing—rather than aggressive downsampling—prove particularly beneficial for preserving the fragile signals of small objects. Techniques involving dilated or deformable convolutions adapt the receptive field dynamically, allowing the network to "focus" its attention more effectively around potential small targets without being constrained by a rigid grid, gathering more relevant contextual information without excessive blurring. Another strategy takes the form of multi-scale training and testing, where the input image is processed at multiple scales simultaneously. This multi-branch processing ensures the network learns scale-invariant features. Specialized detection heads adapted specifically for tiny target scales, often incorporating dilated feature connections or attention modules that amplify small object signals [9, 10], have shown promise. Hybrid designs that incorporate transformer-based prediction heads into YOLO-style detectors (e.g., TPH-YOLOv5) have shown improvements on drone-captured scenarios with dense small objects [27]. Recent UAV-oriented variants such as YOLO-Drone further optimize YOLOv8-style pipelines for tiny UAV object detection, improving sensitivity to small targets [28]. Data augmentation also plays a vital role. Strategic techniques like random cropping, tiling [17], and mosaic augmentation during training explicitly expose the model to a wider, more realistic variety of small object appearances and scales, significantly improving generalization to the unpredictable conditions encountered during actual UAV flights.

Table.2 Comparison of Characteristics and Limitations of Single-Stage Detectors for UAV Small Object Detection

Category	Core Mechanism	Speed Characteristic	Small Object Performance	Key Limitation	Architecture Components

YOLO Family	Grid-based prediction; single-pass task	Tens/hundreds FPS (fast)	↓ (tiny targets lost)	Downsampling erodes spatial details	Backbone (Darknet/CSPNet); grid division
RetinaNet	Focal Loss; multi-scale FPN	Single-stage efficiency retained	↑ (improved)	Cluttered/occluded small objects challenge	FPN + ResNet; Focal Loss
Common Limitations	N/A	Speed prioritized over detail	↓ (fine details lost)	Aggressive downsampling; small receptive fields	N/A
Enhancement Strategies	Multi-scale fusion; adaptive selection	Retains single-stage speed	↑ (accuracy boost)	N/A	FPN/PANet; attention; high-res branches; dilated convs

3.2 Two-Stage Detectors



Fig.4 Working Pipeline of Two-Stage Detectors for UAV Small Object Detection

Two-stage detectors carve out a distinct and valuable niche within the UAV small object detection landscape, prioritizing precision over raw speed. Models exemplified by the seminal Faster R-CNN architecture operate through a fundamentally sequential yet synergistic process, often yielding superior accuracy in aerial surveillance. The very essence of their design—separating the tasks of proposing potential object locations and then meticulously classifying and refining them—provides a framework inherently conducive to handling the subtle signatures of small objects often lost against complex backgrounds or at high altitudes.

Central to this approach is the Region Proposal Network (RPN), a cleverly integrated convolutional network that acts as the system's "scout." By sliding a small window across feature maps generated by a backbone network (like ResNet or VGG), the RPN simultaneously evaluates each position for object presence (objectness score) and proposes multiple bounding boxes (anchors) of various scales and aspect ratios. Think of these anchors as potential "regions of interest" (RoIs)—preliminary guesses that might contain a target. The crucial advantage for small object detection lies in the

RPN's multi-scale anchor strategy. By pre-defining anchors matching expected object sizes at different flight heights, the RPN casts a wider net, increasing the chance that even a tiny target, occupying just a handful of pixels, falls within a suitably scaled anchor box, thereby receiving a high objectness score and being flagged for further scrutiny. This initial filtering stage significantly reduces the computational load downstream by focusing only on the most promising candidate regions.

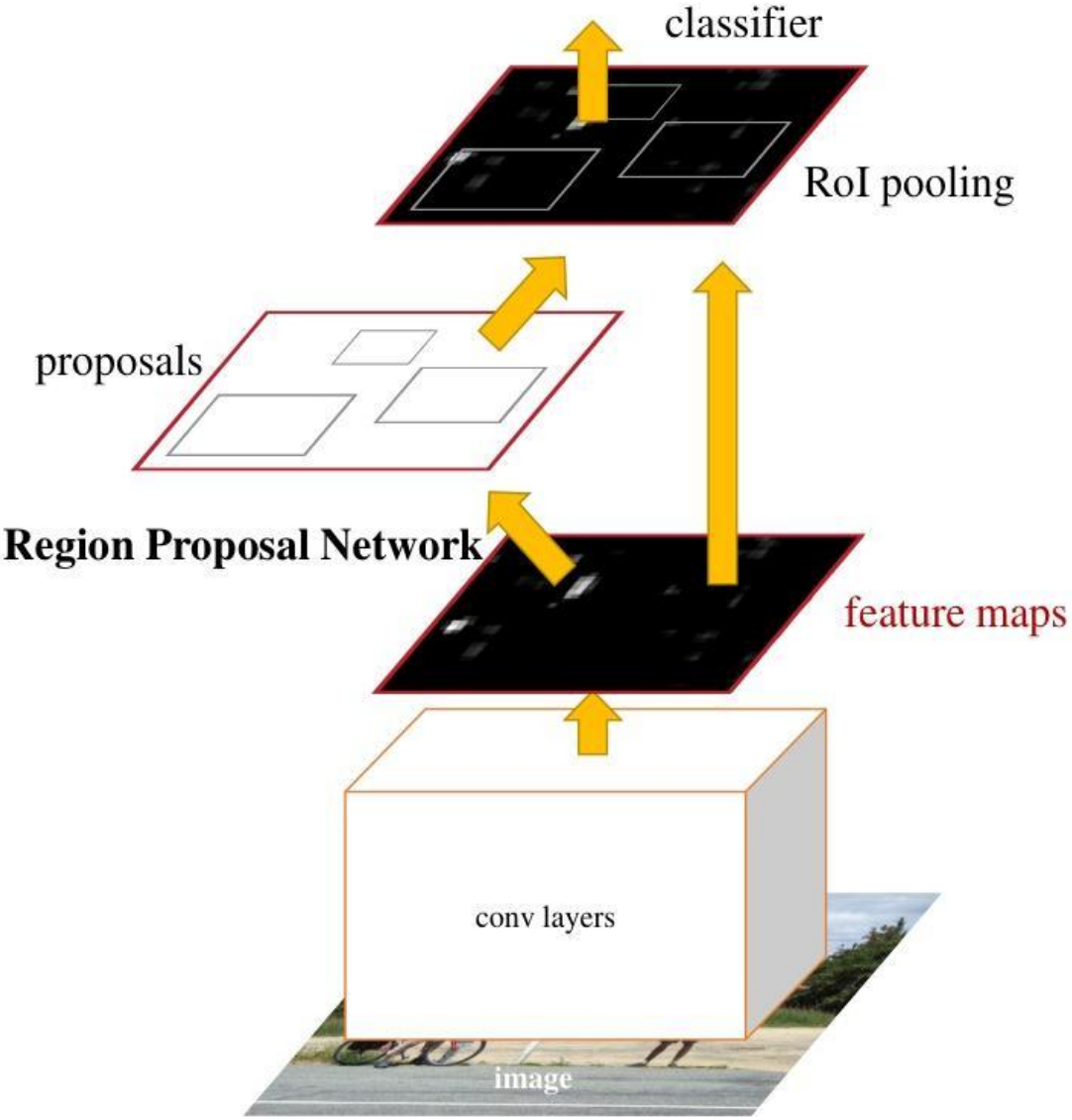

Fig.5 Faster R-CNN is a single, unified network for object detection. The RPN module serves as the 'attention' of this unified network.

Following the RPN's proposals, the architecture enters its second, more refined stage. Here, the proposed RoIs (typically the top few hundred based on objectness scores) undergo a crucial spatial transformation known as RoI Pooling (or its modern variant, RoI Align). Since the proposals have arbitrary sizes and aspect ratios, subsequent fully connected layers for classification and bounding box regression require fixed-length feature vectors. RoI Pooling divides each proposal into a fixed

grid (e.g., 7x7) and applies max-pooling within each cell, extracting a fixed-length feature vector representing the content of that region. While effective, the original RoI Pooling's quantization steps can slightly misalign features, particularly crucial for small objects where precision is paramount. RoI Align addresses this by using bilinear interpolation to compute exact feature values at sampled locations, preserving spatial fidelity and ensuring that the fine details crucial for distinguishing small targets are not lost in translation. This feature vector, now a consistent representation of the proposed box, is then fed into the second stage's core: the classification head and the bounding box regression head. The classification head assigns a definitive object class label (e.g., 'car', 'person', 'background') while the regression branch fine-tunes the coordinates of the proposed box, shifting and resizing it to tighter, more accurate fit around the actual object. This two-pronged refinement—promoting region proposals that inherently offer better spatial precision—allows the network to focus on fine features and subtle boundaries that might otherwise be overwhelmed in a single-stage architecture [13].

Table.3 Core Functions and Performance Optimization of Modules in Two-Stage Detectors

Stage / Module	Core Function	Key Metric / Change	Main Weakness	Typical Fix	Symbol
RPN	Multi-scale anchor proposal	Recall ↑15-30%; 2k→300 RoIs	Tiny objects <16 px missed	Shallow hi-res feature map + anchor ≤16 px	★
RoI Pool	Fixed 7×7 grid max-pool	Misalign →3 px error	Quantization hurts <20 px	Replace by RoI-Align (bilinear)	⚠
RoI-Align	4-point bilinear sampling	Error ↓40%; 1 px→0.6 px	1.3× compute vs Pool	Keep as default for <32 px objs	→
Class-Head	2-FC classifier	mAP ↑2-5 pts vs 1-stage	2× params	Shared FC + pruning 30%	↑
BBox-Head	Delta-regressor	IoU ↑0.05-0.08	Same as above	Joint loss γ=10	↑
Two-stage full	Sequential pipeline	Latency 80-150 ms @720p	Real-time 30 fps target missed	Top-K=100; NAS-backbone	↓
UAV adaptations	Context module	Occluded mAP ↑4-7 pts	Extra 5% FLOPs	Light-weight attention	★
Data aug	Altitude + haze + blur	Robust ↑6 pts	1.5× training time	Online mix-up	→

3.3 Transformer-Based Models

Fig.6 The paradigm shift from CNNs to Transformers for UAV small object detection

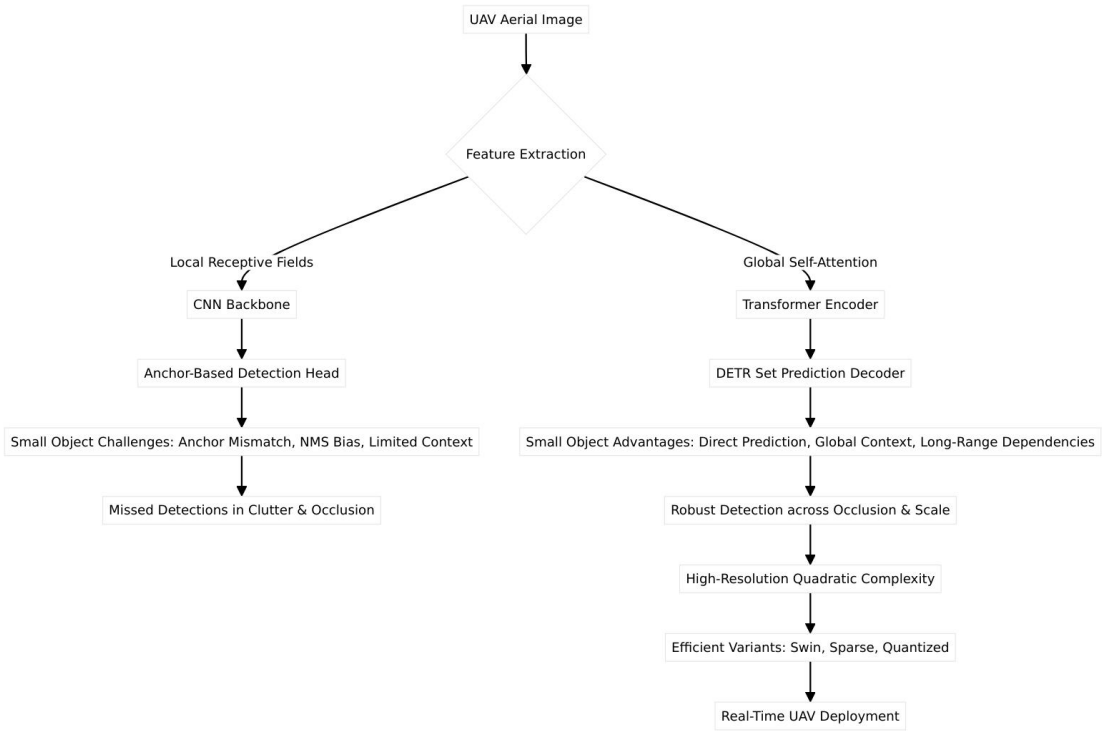

Transformers are emerging as a disruptive force in the landscape of object detection, challenging the dominance of convolutional neural networks (CNNs) in computer vision, fundamentally reshaping the landscape of object detection, including the challenging domain of small objects in UAV aerial imagery. Unlike CNNs, which inherently process information through localized filters and progressive build hierarchical feature representations, Transformers leverage a mechanism known as self-attention. This core innovation allows them to capture global relationships between all parts of an image simultaneously, regardless of their spatial distance. This global perspective is paramount—a characteristic often crucial for spotting elusive small targets against cluttered backgrounds.

Models like DETR (Detection Transformer) exemplify this paradigm shift [14]. DETR fundamentally discards handcrafted components like anchor boxes and non-maximum suppression (NMS), which can introduce biases and complexities, especially detrimental for small objects. Instead, it treats object detection as a direct set prediction problem. It uses a CNN backbone to extract feature maps, then flattens these into a sequence of patch embeddings, and uses a transformer encoder-decoder structure. The encoder refines these embeddings using self-attention, allowing every patch to integrate information from all other patches. The decoder then takes learned object queries to integrate potential object positions and attention to the encoder's output, effectively "asking" the global context about the presence and attributes of objects at each location. This holistic approach can be particularly beneficial for small objects, where local cues might be weaker than the smaller predefined anchor.

The power truly lies in the self-attention mechanism. When processing a particular image patch, self-attention computes a weighted sum of features from "all" other patches in the image. The weights are determined by a learned compatibility function, allowing the model to focus on the most relevant parts of the current patch's representation. This is radically different from CNNs, whose receptive fields, even with deep stacks, are fundamentally local and require many layers to propagate information across large distances. For small object detection in complex UAV scenes, this means a transformer can, for instance, link a tiny, partially visible vehicle obscured by tree shadows (Patch A) to clearer contextual data like the structure of the surrounding target object (Patch B) hundreds of pixels away in the interpreting Patch A. CNNs often struggle with this, as the intricate pathways needed to connect such distant contextual information can be difficult to learn effectively, and the details crucial to small objects might be diluted through pooling layers long before reaching the necessary receptive field size. Transformers preserve these long-range features more effectively through their sequential processing and attention mechanisms.

Empirical evidence underscores Transformers' potential for UAV small object detection, particularly concerning long-range dependencies and context modeling. Evaluations on benchmark UAV datasets like VisDrone [19, 20] consistently show transformer-based models achieving competitive or superior performance, especially in scenarios involving heavily occluded, low contrast, and dense clusters of small objects. For instance, in a crowded parking lot where a pedestrian might be partially hidden behind a vehicle due to limited context integration, a transformer, leveraging its global view, has a higher chance of leveraging cues from the surrounding sidewalk, typical pedestrian statures inferred from visible limbs, or nearby similar objects to correctly infer the presence. They demonstrate remarkable robustness against background clutter, the ability to adapt to object feature scales across the entire feature hierarchy—the self-attention mechanism can inherently adjust its focus to relevant object dimensions without relying solely on multi-scale pyramid structures, though these are often combined for optimal performance.

This power comes with significant computational demands. Processing all pairwise interactions between image patches, especially at the high resolutions often desired for UAV imagery, essential for capturing small objects, thus poses a substantial challenge, leading to higher memory consumption and slower inference speeds compared to optimized CNN counterparts. This is a critical consideration for real-time UAV applications operating on edge devices with limited resources. Consequently, a vibrant area of research focuses on developing efficient transformer variants. Techniques like sparse attention patterns, hierarchical designs (e.g., where attention is computed only for a subset of patches), and model quantization are actively being explored to bridge the efficiency gap without sacrificing the core benefits of global context modeling. Vision Transformers (ViTs) with hierarchical designs, sparse attention mechanisms (e.g., where attention is computed only for a subset of patches),

and model quantization are actively being explored to bridge the efficiency gap without sacrificing the core benefits of global context modeling.

The emergence of state space models like Vision Mamba [29] offers a promising avenue for efficient global context modeling. By leveraging structured state space sequences, Vision Mamba captures long-range dependencies essential for detecting minute objects in the vast, complex canvases captured by UAVs. Their ability to directly model relationships between distant image regions, bypassing the limitations of local receptive fields and hierarchical resolution reduction, offers profound potential for small object detection [16].

Table.4 Performance Comparison of Transformer and CNN Core Mechanisms in UAV Small Object Detection

Core Mechanism	Context Handling	UAV Small Object Performance	Key Limitations	Computational Complexity
Self-attention (global patch pairwise interactions)	Global (simultaneous all-patch relationships)	Better on occlusion/dense clusters; distant cues	Quadratic complexity (↑ memory/inference time)	$O(n^2)$ (n=patch count; ↑ for high-res UAV)
Local filters (hierarchical feature building)	Local (slow receptive field growth; distant links hard)	Struggles with occlusion; fine details diluted	Anchor box biases; NMS complexities; context gaps	Optimized (linear; faster on edge devices)

4.Key Techniques for Enhancing Small Object Detection

4.1 Data Augmentation and Synthetic Data

The Achilles' heel of training deep neural networks for spotting diminutive objects in vast aerial vistas often boils down to a fundamental scarcity: the lack of abundant, meticulously labeled training data. Small targets, by their very nature, occupy precious few pixels, making them inherently challenging to annotate accurately at scale. Manually drawing bounding boxes around tiny, sometimes ambiguously defined objects is excruciatingly labor-intensive, error-prone, and costly endeavor. This data scarcity severely limits model generalization, especially for rare objects or novel environments. Future breakthroughs are likely to stem from paradigms that drastically reduce this labeling burden. Unsupervised learning (UL) and self-supervised learning (SSL) offer tantalizing possibilities. SSL techniques could leverage the inherent structure within the unlabeled aerial imagery itself—learning representations by predicting spatial relationships between image patches, solving jigsaw puzzles, or using temporal consistency in video streams. UL might discover inherent clusters representing different object types without explicit labels. While directly applying current UL/SSL methods to the specific nuances of small object detection is challenging, adapting these approaches, potentially combined with

semi-supervised learning (SSL) that intelligently leverages small labeled sets alongside massive unlabeled data pools (e.g., using consistency regularization, pseudo-labeling), is a highly promising direction.

Generative Adversarial Networks (GANs) represent a quantum leap in data augmentation capabilities. These fascinating models operate through a captivating duel between two neural networks: a generator striving to fabricate hyper-realistic synthetic images containing small objects, and a discriminator relentlessly trying to distinguish these fabrications from genuine data. This adversarial dynamic pushes the generator towards synthesizing samples of astonishing fidelity. For UAV small object detection, GANs offer tremendous potential for augmenting training datasets with novel, high-resolution aerial scenes populated with realistically rendered small objects (like vehicles, pedestrians, or livestock) in diverse backgrounds and under varying lighting and weather conditions. Crucially, these synthetic images come with perfect, pixel-perfect annotations automatically. This eliminates the arduous and error-prone manual labeling process. GANs can be employed for targeted data augmentation: altering the texture, pose, or partial occlusion state of existing small objects, thereby filling gaps in the data distribution. Advanced variants like conditional GANs or StyleGAN offer even finer control over the generation process, allowing researchers to specify exact object types, sizes, and placements within the synthetic scene. The ability to generate vast quantities of tailored, annotated data on-demand effectively addresses the data scarcity issue head-on, providing the fuel needed to train more complex and accurate detection models.

Beyond GANs, sophisticated simulation platforms, researchers can construct highly realistic virtual 3D environments mimicking real-world terrain, urban landscapes, or specific geographic areas. Within these digital twins, objects of interest (vehicles, people, specific agricultural elements) can be programmatically placed, manipulated, and rendered from countless viewpoints and altitudes corresponding to UAV flight paths. Parameters such as time of day, cloud cover, shadows, sensor noise, and even lens distortions can be meticulously controlled. This approach offers unparalleled flexibility and scalability. Need a dataset with exactly 10,000 images of partially occluded cars in snowy conditions at 100m altitude? A simulation can generate it identically and efficiently. While achieving absolute photorealism remains an ongoing challenge and the "sim-to-real" gap (differences between synthetic and real data) must be addressed through techniques like domain adaptation, the volume, diversity, and annotation quality achievable through simulation are revolutionizing small object detection training. Physically Based Rendering (PBR) materials and high-fidelity environmental models are continuously narrowing this reality gap.

Tiling strategies like SAHI (Slicing Aided Hyper Inference) [17] have emerged as a pragmatic solution to the small object detection challenge. By dividing high-resolution aerial images into smaller, overlapping patches, SAHI allows standard detection models to operate at scales where small objects appear larger and more detectable, without requiring massive computational resources during training. This

approach effectively increases the relative size of small objects within the processing window, significantly improving detection rates for minute targets.

4.2 Feature Enhancement and Fusion

Feature enhancement and fusion stand as pivotal pillars in the arduous quest to detect diminutive objects within the vast, often chaotic canvases captured by UAVs. The inherent challenge is stark: as convolutional neural networks (CNNs) process images through successive layers, extracting increasingly abstract semantic features, the delicate, low-level details crucial for spotting tiny targets—a distant pedestrian, a camouflaged vehicle, or a small agricultural pest—progressively dissipate. This information erosion, particularly pronounced in standard architectures that aggressively downsample feature maps, creates a significant bottleneck. Consequently, sophisticated techniques have emerged to amplify these faint signals and strategically combine information across different network depths, forging robust representations where small objects can finally stand rather than whisper.

Enter the Feature Pyramid Network (FPN) [8], a cornerstone architecture ingeniously designed to combat the tyranny of scale in object detection. Standard CNNs naturally produce feature hierarchies where high-level layers have low spatial resolution, ill-suited for spotting minuscule elements. FPN shatters this limitation by constructing an multi-scale feature pyramid in a computationally elegant manner. It leverages the inherent hierarchical structure of backbone CNNs (like ResNet). The process begins with a bottom-up pathway, the standard forward pass, where features at different stages (e.g., C2, C3, C4, C5) progressively capture higher-level semantics with coarser spatial resolution. Starting from the top layer (e.g., C5), FPN upsamples these features to match the spatial size of the feature map from the "previous" level in the bottom-up hierarchy (e.g., C4). Crucially, this upsampled map isn't used alone. It undergoes lateral connections—a 1x1 convolution to adjust channel dimensions—fusing it with the corresponding feature map from the bottom-up pathway (e.g., C4). This fusion, often element-wise addition, creates a richer, more robust feature representation that possesses both strong semantic content and fine spatial detail preserved in the earlier bottom-up layer. This fused map then becomes the starting point for the next level: upsampled again and fused with the next lower bottom-up map (e.g., C3), propagating rich semantics down to higher resolutions. The result is a pyramid of feature maps (P3, P4, P5, etc.), each level possessing strong semantic representation "and" high spatial resolution relative to its scale. This multi-scale representation is a game-changer for UAV imagery. Detectors can be applied to different levels of the pyramid to effectively handle objects at a vast spectrum of sizes. A small object, barely a few pixels at the original image scale, might be represented more robustly at a higher-resolution pyramid level (e.g., P3), where its features haven't been diluted by excessive pooling.

Beyond FPN, various architectural innovations have emerged. Attention mechanisms, like Squeeze-and-Excitation (SE) [10] blocks or spatial attention

modules, can be integrated. These mechanisms generate weight maps that highlight which features (or which parts of the feature map) are most relevant for the current context or scale, allowing the fusion process to focus on the most discriminative information for small objects while suppressing background clutter. For instance, an attention gate might learn to upweight features corresponding to potential small object locations derived from a deeper layer when fusing with a shallower layer. Other works focus on multi-scale feature fusion with attention to enhance detection in crowded road scenarios [30].

4.3 Post-Processing and Optimization

Post-processing and optimization serve as the critical final gatekeepers in the pipeline of UAV-based object detection, transforming the network's raw, initial predictions into reliable, actionable detections. These techniques work in concert to sift through the inherent noise, ambiguities, and imperfections introduced by the challenging nature of aerial imagery, where diminutive targets often nestle amidst visual clutter. Far from being mere afterthoughts, sophisticated post-processing and tailored optimization strategies are paramount in elevating detection precision and recall from merely acceptable to genuinely robust, especially when dealing with objects that occupy only a handful of pixels.

Non-Maximum Suppression (NMS) stands as the cornerstone of post-processing, tackling the fundamental problem of duplicate detections. Traditional NMS operates on a simple, yet often overly harsh, principle: for overlapping bounding boxes predicted around the same object, keep the one with the highest confidence score and discard all others exceeding a predefined Intersection-Over-Union (IoU) threshold. While effective in eliminating blatant duplicates, this greedy approach stumbles heavily in the UAV context. Dense scenes, such as flocks of birds, herds of animals, or parked vehicles in a crowded lot, often contain numerous legitimate small objects in close proximity. Applying vanilla NMS risks obliterating true positives that happen to overlap slightly with the highest-scoring box. The consequence is a frustrating drop in recall—genuine targets vanish simply because they were slightly adjacent to another target. Distance-IoU (DIoU) NMS [31] and Complete-IoU (CIoU) NMS factor in not just the overlap ratio (IoU) but also the distance between box centers and sometimes aspect ratio consistency, penalizing boxes that are farther apart more heavily. This helps preserve correct detections in densely packed scenes. Soft-NMS addresses this critical weakness by replacing the abrupt discarding of boxes with a gentler, decaying function that lowers their confidence scores. Instead of eliminating all boxes exceeding the IoU threshold, Soft-NMS reduces the confidence score of overlapping boxes proportionally to their overlap with the highest-scoring box. If the suppressed detection still exceeds a secondary threshold, it is preserved. This subtle shift significantly mitigates the problem of missing tightly packed objects, preserving valuable detections that traditional NMS would sacrifice. Weighted-NMS takes a different tack, aggregating information from multiple overlapping predictions. Rather than selecting a single winner, it computes a weighted average of the coordinates of boxes exceeding the overlap threshold, using their confidence scores as weights. This results in a more precisely localized bounding box that better represents the true

object location and size, especially beneficial for small objects where single-box localization can be noisy.

Loss function design is arguably the most potent lever for boosting small object performance. Classification losses like Cross-Entropy, for classification and Smooth L1 for bounding box regression, often fall short for tiny targets. Focal Loss [8] down-weights the loss assigned to well-classified, easy examples (vast swaths of background and large, obvious objects) while amplifying the loss contribution for hard, misclassified examples—the small, occluded targets that prove most challenging to detect. For bounding box regression, IoU-based losses like DIoU [31] and CIoU explicitly optimize the overlap between predicted and ground truth boxes. Unlike Smooth L1, which treats box parameters independently, DIoU and CIoU consider their joint influence. DIoU minimizes the distance between box centers, and CIoU further incorporates aspect ratio consistency. For small objects, where even minor deviations in box prediction significantly impact the overlap ratio, optimizing directly for IoU leads to substantially tighter and more reliable bounding boxes. For bounding box regression, dynamic IoU losses such as Wise-IoU introduce a focusing mechanism to emphasize high-quality samples during training and can improve localization for small objects [32].

5.Evaluation Metrics and Benchmark Datasets

Evaluating the prowess of algorithms designed to spot diminutive targets in the vast aerial canvases captured by UAVs demands a rigorous framework built on standardized metrics and representative datasets. These resources serve as the essential yardsticks for progress. These resources, while invaluable, also highlight ongoing challenges in annotation consistency, dataset diversity, and the need for even more representative real-world complexity.

The Proving Grounds: Key UAV-Centric Datasets

Several benchmark datasets have emerged as essential testing grounds for UAV small object detection algorithms. Among the most influential are VisDrone [19, 20], UAVDT [20], and DOTA [21].

VisDrone, collected over diverse Chinese urban and rural settings, features tens of thousands of images and video frames captured under varying altitudes, weather conditions, and lighting. Its sheer scale and diversity in object categories (pedestrians, vehicles, cyclists, etc.), densities, and scales make it an exceptionally challenging and popular benchmark. VisDrone specifically focuses on urban traffic monitoring scenarios. UAVDT (UAV Detection and Tracking) focuses specifically on urban traffic monitoring scenarios. It provides not only object detection annotations but also trajectory information, captured from UAVs flying over complex road networks. UAVDT is particularly valuable for evaluating models in dynamic environments with moving vehicles (cars, trucks, buses) of varying sizes, often presenting small object challenges at higher altitudes, alongside issues like occlusion and motion blur.

Stanford Drone Dataset (SD), while often used for trajectory prediction, also contains rich annotations for various agents (pedestrians, cyclists, cars, skateboarders), in complex campus environments. Its focus on intricate interactions and crowded scenes provides a different flavor of challenge for small object detection. VEDAI (Vehicle Detection in Aerial Imagery) offers high-resolution optical and infrared images, primarily focusing on vehicles in diverse rural and off-road settings. The inclusion of infrared data presents unique opportunities and challenges, while the often sparse backgrounds contrast with the cluttered urban scenes in VisDrone or UAVDT. DOTA (Dataset for Object Detection in Aerial Images) [21] is another large-scale benchmark, originally for oriented object detection in satellite/aerial imagery, but frequently employed for UAV perspectives. It features a vast number of instances across numerous categories and provides oriented bounding boxes offer a different dimension of complexity. Each dataset presents unique characteristics: VisDrone's density and diversity, UAVDT's dynamic traffic focus, SD's interaction complexity, VEDAI's multi-spectral and sparse settings, and DOTA's scale and orientation. Choosing the right dataset(s) depends heavily on the specific application domain and the challenges one aims to address.

6.Applications and Case Studies

Unmanned Aerial Vehicles (UAVs), soaring above landscapes once difficult or dangerous to access, have fundamentally altered our capacity to observe and interpret the world beneath. Crucially, the true power of this "eye in the sky" is unlocked by the ability to automatically identify and analyze minuscule objects within the vast streams of imagery they capture. Deep learning algorithms, specifically engineered for the daunting task of small object detection, are the linchpin transforming raw aerial data into actionable intelligence across a remarkably diverse spectrum of critical sectors.

6.1 Life-Saving Vision: Search and Rescue in Critical Moments

When disaster strikes—be it an earthquake reducing buildings to rubble, a hiker lost in treacherous mountain terrain, or floods submerging vast areas—time becomes the most critical resource. Locating survivors amidst chaos and hazards is the paramount objective. UAVs offer a crucial advantage: rapid deployment, access to hazardous or inaccessible zones, and coverage of large search areas efficiently, spotting a distressed person, a fragment of clothing, or a signal mirror in such environments, often characterized by dense foliage, debris, complex topography, and challenging lighting, is exceptionally difficult. This is where small object detection algorithms become literal lifesavers [5]. These systems are meticulously trained to identify human forms, thermal signatures (even partially obscured), specific colors of clothing or equipment, and distress signals against highly cluttered and dynamic backgrounds. A poignant and powerful example occurred following a major avalanche in a remote Himalayan region. Multiple climbers were reported missing.

Traditional ground search teams faced immense danger from unstable snow and extreme weather. UAVs equipped with both high-res optical and thermal cameras were deployed. The detection system, employing a transformer-based model (like a derivative of DETR) [14] combined with multi-spectral analysis, was tasked with identifying minute thermal anomalies and unusual color patches in the snowfield. Despite blowing snow and challenging contrast, the algorithm successfully flagged a small, irregular thermal signature partially obscured by ice blocks. Guided by these coordinates, rescue teams located a buried climber within a critical survival window, demonstrating the profound potential of this technology. Similarly, in flood scenarios, algorithms can detect people stranded on rooftops or clinging to debris in vast expanses of water, or locate life jackets in choppy seas, drastically accelerating rescue efforts and improving survival odds.

6.2 Cultivating Intelligence: Precision Agriculture Takes Flight

The vast, seemingly uniform expanses of agricultural land are, in reality, intricate mosaics of micro-variations in plant health, soil moisture, and pest presence. Spotting these subtle signs early is paramount for maximizing yield and minimizing resource waste. Here, UAVs transcend their role as mere observers, becoming sophisticated diagnostic tools empowered by deep learning. High-resolution multispectral and RGB cameras capture detailed crop imagery. Algorithms trained to detect anomalies—a cluster of slightly discolored leaves hinting at disease, the faint stippling pattern left by sap-sucking insects, or the patchy emergence signaling poor germination—can spot these images with tireless precision. Crucially, they identify these threats while they are still small and localized, often invisible to the naked eye from the ground or via lower-resolution satellite imagery. This granular intelligence allows for surgical interventions. Instead of blanket-spraying entire fields with pesticides or fertilizers, farmers can deploy resources precisely where needed. A compelling case study emerged from a large vineyard in California battling a persistent fungal disease. UAVs equipped with specialized sensors and running a Faster R-CNN model [13] adapted for small grapevine lesions flew regular missions. The model, trained to recognize the specific spectral signature of early-stage infection, detected affected vines with 85% precision before symptoms were visually apparent to ground teams. This enabled targeted fungicide application only on infected rows and immediate neighbors, reducing chemical usage by 40% compared to standard practice, while simultaneously containing the outbreak and protecting the harvest. Similarly, algorithms can count individual seedlings, assess plant spacing uniformity, and even identify specific weed species encroaching on crops, enabling highly targeted mechanical or chemical weeding.

7.Future Directions and Open Challenges

While significant strides have made UAV-based small object detection increasingly viable, the journey toward truly robust, efficient, and universally applicable systems is far from complete. Several persistent and emerging challenges

demand focused research efforts to unlock the full potential of this technology. This section delves into the critical unresolved issues and charts promising avenues for future exploration.

7.1 The Edge Computing Bottleneck: Real-Time Processing Under Constraints

The allure of deploying intelligent detection directly on UAVs or nearby edge devices for instantaneous decision-making crashes against the harsh reality of computational and power limitations. Current high-performance deep learning models, especially complex multi-scale detectors or transformer-based architectures, are often resource gluttons, ill-suited for the lean environments of drones. Achieving real-time inference (e.g., >30 FPS) for high-resolution aerial imagery teeming with small targets remains a formidable hurdle. Future research must aggressively pursue lightweight model architectures specifically designed for edge deployment. This goes beyond simple pruning or quantization; it necessitates innovative neural network designs that inherently prioritize efficiency without sacrificing critical feature extraction capabilities for minuscule objects. Techniques like neural architecture search (NAS) tailored for edge constraints, knowledge distillation from larger teacher models to compact student models, and hardware-aware model co-design (where algorithms are developed in tandem with specialized processing units like NPUs) are crucial. Lightweight backbones (e.g., GhostNet) can reduce computation while maintaining representational capacity, making them attractive for onboard UAV inference [33]. More recent mobile-oriented architectures such as MobileNetV4 provide strong accuracy – latency trade-offs and are promising candidates for edge UAV detection systems [34]. Beyond purely onboard inference, edge – cloud collaborative detection frameworks have been proposed to jointly optimize lightweight models and task offloading for UAV applications [35]. Task offloading and resource allocation for UAV-assisted edge computing can be formulated as joint optimization problems, providing system-level support for real-time aerial perception [36].

7.2 Fortifying the Frontier: Robustness Against Adversity and Deception

The real-world operational environment for UAVs is inherently messy and potentially hostile. Current detection models often exhibit a worrying fragility when confronted with adversarial attacks. Maliciously crafted perturbations, invisible to the human eye but potent enough to fool deep neural networks, could lead to catastrophic failures in critical applications like surveillance or security. Research into defensive mechanisms—such as adversarial training, input transformations resilient to perturbations, and anomaly detection techniques to flag potentially manipulated inputs—is paramount. Equally critical is enhancing robustness against natural adversarial conditions. These include:

Occlusion Resilience: Objects frequently get partially hidden by terrain, structures, or other objects. Models need to better reason about partial visibility and context.

Extreme Weather and Lighting: Performance degrades significantly under heavy rain, fog, snow, glare, or low-light conditions. Developing algorithms invariant to these atmospheric and illumination variations is essential.

Physical-World Attacks: Beyond digital noise, consider deceptive physical patterns on the ground or objects designed to confuse aerial detection algorithms. Robustness testing must encompass these real-world trickery scenarios. Building models that are not just accurate in ideal conditions but "trustworthy and resilient" under duress is a non-negotiable requirement for safe and reliable deployment.

7.3 Breaking the Data Dependency: Towards Unsupervised and Self-Supervised Learning

The Achilles' heel of deep learning remains its voracious appetite for vast amounts of accurately labeled data. Annotating tiny objects across thousands of high-resolution UAV images is an excruciatingly labor-intensive, error-prone, and costly endeavor. This data scarcity severely limits model generalization, especially for rare objects or novel environments. Future breakthroughs are likely to stem from paradigms that drastically reduce this labeling burden. Unsupervised learning (UL) and self-supervised learning (SSL) offer tantalizing possibilities. SSL techniques could leverage the inherent structure within the unlabeled aerial imagery itself—learning representations by predicting spatial relationships between image patches, solving jigsaw puzzles, or using temporal consistency in video streams. UL might discover inherent clusters representing different object types without explicit labels. While directly applying current UL/SSL methods to the specific nuances of small object detection is challenging, adapting these approaches, potentially combined with semi-supervised learning (SSL) that intelligently leverages small labeled sets alongside massive unlabeled data pools (e.g., using consistency regularization, pseudo-labeling), is a highly promising direction. Foundation models for segmentation, such as the Segment Anything Model (SAM), are being explored in remote sensing to reduce annotation cost and enable prompt-based adaptation, which may complement small-object detection pipelines [37].

7.4.Beyond Efficiency: Context, Integration, and Explainability

While efficiency is critical, other dimensions require equal attention:

Context is King (for Tiny Targets): Small objects are often defined by their surroundings. Future models need deeper contextual reasoning capabilities. This involves not just the immediate pixels around an object but understanding the broader scene semantics (e.g., cars are likely on roads, ships on water). Integrating scene graph understanding or relational networks could provide crucial disambiguating context, especially when object features alone are insufficient.

Multi-Modal Fusion: Relying solely on RGB images is limiting. Incorporating data from other sensors frequently found on UAVs—such as infrared (IR) for thermal signatures (useful at night or for obscured objects), LiDAR for precise depth and structure, or even hyperspectral data for material identification—can provide complementary information, significantly boosting detection reliability and robustness, particularly for challenging small targets. Cross-modality detection using RGB and infrared imagery can improve robustness under low-light conditions, and uncertainty-aware learning has been explored for drone-based vehicle detection [38].

For aerial imagery where object orientation matters, cross-modal oriented object detection has been investigated to better localize rotated targets in UAV views [39].

The Black Box Problem: As these systems are deployed in critical scenarios, understanding "why" a model makes a particular detection (or misses one) becomes vital for trust and debugging. Integrating explainable AI (XAI) techniques tailored for object detection is essential. This could involve visualizing the features or regions most influential for a detection decision, helping developers improve models and operators understand system limitations.

Propelling UAV small object detection to the next level requires a multi-pronged attack on these interconnected challenges. Success will lie in crafting remarkably efficient yet powerful models capable of real-time edge operation, endowing them with unwavering robustness against both natural and artificial adversities, liberating them from the tyranny of massive labeled datasets through self-discovery, and empowering them with contextual awareness, multi-modal perception, and understandable reasoning. Addressing these open challenges will not only enhance the capabilities of individual drones but will pave the way for truly intelligent, autonomous aerial systems that can reliably perceive and interact with the intricate details of our world from above.

8.Conclusion

Here is the conclusion section drafted according to your requirements:

The journey through the landscape of deep learning for small object detection in UAV aerial imagery culminates here, revealing both remarkable strides and persistent hurdles. This exploration has illuminated the transformative power of deep neural networks in tackling the unique, often formidable, challenges inherent to spotting diminutive targets from the sky. The core difficulties—objects rendered minuscule by altitude, vanishing into complex backgrounds, or obscured by occlusions—demand solutions far beyond the reach of traditional computer vision. Deep learning, with its capacity for hierarchical feature learning and representation, has demonstrably risen to this occasion, offering tools that can discern the faintest signals amidst visual noise.

We've witnessed how architectures have evolved specifically to counter these challenges. Single-stage detectors, prized for their blistering speed, have been refined with sophisticated feature pyramids [8] and attention modules [9, 10] to enhance their sensitivity to tiny objects, making them strong contenders for real-time UAV operation. Two-stage detectors, while computationally heavier, leverage the demand proposal generation mechanisms to achieve higher precision, proving invaluable in scenarios demanding utmost accuracy. The emergence of transformer-based models [14, 15, 29] introduces a paradigm shift, harnessing self-attention to capture long-range contextual dependencies, potentially unlocking new levels of understanding in cluttered aerial scenes. Beyond core architectures, critical enabling techniques have been dissected: data augmentation and synthetic data generation [17]

combat the scarcity of labeled examples; multi-scale feature fusion and enhancement strategies [18,30] explicitly bolster the representation of small objects; and refined post-processing methods [31, 32] meticulously sift through detections to elevate final performance.

The evaluation landscape, defined by metrics like mAP and IoU, and benchmarked against datasets such as VisDrone [19, 20] and UAVDT [20], provides the essential yardstick for progress. These resources, while invaluable, also highlight ongoing challenges in annotation consistency, dataset diversity, and the need for even more representative real-world complexity. Nevertheless, the practical impact is undeniable and burgeoning. From meticulously monitoring traffic flow and pinpointing infrastructure issues, to enabling precision agriculture through crop health assessment and pest detection, to orchestrating life-saving search and rescue missions in disaster zones, the applications of robust small object detection are profoundly transforming diverse fields. These real-world deployments stand as testament to the tangible value unlocked by these algorithms.

Despite these significant achievements, the quest is far from complete. Several frontiers demand relentless innovation. Achieving real-time, high-accuracy detection on the resource-constrained hardware typical of UAVs themselves remains a critical hurdle, necessitating the development of ultra-lightweight yet potent models. Enhancing robustness against adversarial attacks, extreme weather conditions, and severe occlusion scenarios is paramount for reliable deployment in unpredictable environments. While data augmentation helps, the fundamental challenge of limited, high-quality annotated data for rare or novel small objects persists, calling for advances in few-shot, self-supervised, or unsupervised learning paradigms that can learn effectively from less. Seamlessly integrating detection with other UAV perception tasks like tracking, segmentation, and 3D localization within unified, efficient frameworks represents a crucial next step for holistic scene understanding.

The path forward is inherently interdisciplinary. Progress will be fueled not just by advancements in core deep learning architectures, but also by innovations in sensor technology providing richer data (e.g., multi-spectral, hyperspectral), breakthroughs in edge computing enabling on-board processing, and insights from fields like cognitive science informing better attention mechanisms. Collaboration across computer vision, robotics, aerospace engineering, and domain-specific fields like agriculture or environmental science is essential to address the multifaceted nature of the challenges and unlock the full potential. The ability to reliably detect small objects from UAVs is more than a technical feat; it's a key pillar for unlocking the vast, transformative potential of aerial robotics across society. Continued dedication to innovation, collaboration, and tackling the hard problems outlined herein is not merely an academic pursuit, but a necessary investment in shaping a future where the sky's perspective delivers actionable intelligence, pixel by crucial pixel.

References

[1] Wu, X., Li, W., Hong, D., Tao, R., & Du, Q. (2021). Deep learning for unmanned aerial vehicle-based object detection and tracking: A survey. *IEEE Geoscience and Remote Sensing Magazine*, *10*(1), 91-124.

[2]Srivastava, S., Narayan, S., & Mittal, S. (2021). A survey of deep learning techniques for vehicle detection from UAV images. *Journal of Systems Architecture*, *117*, 102152

[3] Gui, S., Song, S., Qin, R., & Tang, Y. (2024). Remote sensing object detection in the deep learning era—a review. *Remote Sensing*, *16*(2), 327.

[4] Wang, J., Yang, W., Guo, H., Zhang, R., & Xia, G. S. (2021, January). Tiny object detection in aerial images. In *2020 25th international conference on pattern recognition (ICPR)* (pp. 3791-3798). IEEE.

[5] Lyu, M., Zhao, Y., Huang, C., & Huang, H. (2023). Unmanned aerial vehicles for search and rescue: A survey. *Remote Sensing*, *15*(13), 3266.

[6] Velusamy, P., Rajendran, S., Mahendran, R. K., Naseer, S., Shafiq, M., & Choi, J. G. (2021). Unmanned Aerial Vehicles (UAV) in precision agriculture: Applications and challenges. *Energies*, *15*(1), 217.

[7] Zou, Z., Chen, K., Shi, Z., Guo, Y., & Ye, J. (2023). Object detection in 20 years: A survey. *Proceedings of the IEEE*, *111*(3), 257-276.

[8] Lin, T. Y., Dollár, P., Girshick, R., He, K., Hariharan, B., & Belongie, S. (2017). Feature pyramid networks for object detection. In *Proceedings of the IEEE conference on computer vision and pattern recognition* (pp. 2117-2125).

[9] Woo, S., Park, J., Lee, J. Y., & Kweon, I. S. (2018). Cbam: Convolutional block attention module. In *Proceedings of the European conference on computer vision (ECCV)* (pp. 3-19).

[10] Hu, J., Shen, L., & Sun, G. (2018). Squeeze-and-excitation networks. In *Proceedings of the IEEE conference on computer vision and pattern recognition* (pp. 7132-7141).

[11] Hussain, M. (2023). YOLO-v1 to YOLO-v8, the rise of YOLO and its complementary nature toward digital manufacturing and industrial defect detection. *Machines*, *11*(7), 677.

[12] Terven, J., Córdova-Esparza, D. M., & Romero-González, J. A. (2023). A comprehensive review of yolo architectures in computer vision: From yolov1 to yolov8 and yolo-nas. *Machine learning and knowledge extraction*, *5*(4), 1680-1716.

[13] Cai, Z., & Vasconcelos, N. (2019). Cascade R-CNN: High quality object detection and instance segmentation. *IEEE transactions on pattern analysis and machine intelligence*, *43*(5), 1483-1498.

[14] Carion, N., Massa, F., Synnaeve, G., Usunier, N., Kirillov, A., & Zagoruyko, S. (2020, August). End-to-end object detection with transformers. In *European conference on computer vision* (pp. 213-229). Cham: Springer International Publishing.

[15] Liu, Z., Hu, H., Lin, Y., Yao, Z., Xie, Z., Wei, Y., ... & Guo, B. (2022). Swin transformer v2: Scaling up capacity and resolution. In *Proceedings of the IEEE/CVF conference on computer vision and pattern recognition* (pp.

12009-12019).
[16] Wang, H., & Gao, J. (2025). Sf-detr: A scale-frequency detection transformer for drone-view object detection. Sensors, 25(7), 2190.
[17] Akyon, F. C., Altinuc, S. O., & Temizel, A. (2022, October). Slicing aided hyper inference and fine-tuning for small object detection. In *2022 IEEE international conference on image processing (ICIP)* (pp. 966-970). IEEE.
[18] Gong, Y., Yu, X., Ding, Y., Peng, X., Zhao, J., & Han, Z. (2021). Effective fusion factor in FPN for tiny object detection. In *Proceedings of the IEEE/CVF winter conference on applications of computer vision* (pp. 1160-1168).
[19] Cao, Y., He, Z., Wang, L., Wang, W., Yuan, Y., Zhang, D., ... & Liu, M. (2021). VisDrone-DET2021: The vision meets drone object detection challenge results. In *Proceedings of the IEEE/CVF International conference on computer vision* (pp. 2847-2854).
[20] Du, D., Qi, Y., Yu, H., Yang, Y., Duan, K., Li, G., ... & Tian, Q. (2018). The unmanned aerial vehicle benchmark: Object detection and tracking. In *Proceedings of the European conference on computer vision (ECCV)* (pp. 370-386).
[21] Xia, G. S., Bai, X., Ding, J., Zhu, Z., Belongie, S., Luo, J., ... & Zhang, L. (2018). DOTA: A large-scale dataset for object detection in aerial images. In *Proceedings of the IEEE conference on computer vision and pattern recognition* (pp. 3974-3983).
[22] Hou, Q., Zhou, D., & Feng, J. (2021). Coordinate attention for efficient mobile network design. In *Proceedings of the IEEE/CVF conference on computer vision and pattern recognition* (pp. 13713-13722).
[23] Tian, Y., Ye, Q., & Doermann, D. (2025). Yolov12: Attention-centric real-time object detectors. *arXiv preprint arXiv:2502.12524*.
[24] Wang, A., Chen, H., Liu, L., Chen, K., Lin, Z., & Han, J. (2024). Yolov10: Real-time end-to-end object detection. *Advances in neural information processing systems*, *37*, 107984-108011.
[25] Wang, C. Y., Yeh, I. H., & Mark Liao, H. Y. (2024, September). Yolov9: Learning what you want to learn using programmable gradient information. In *European conference on computer vision* (pp. 1-21). Cham: Springer Nature Switzerland.
[26] Cai, H., Xie, Y., Xu, J., & Xiong, Z. (2022). A lightweight and accurate uav detection method based on yolov4. *Sensors*, *22*(18), 6874.
[27] Zhu, X., Lyu, S., Wang, X., & Zhao, Q. (2021). TPH-YOLOv5: Improved YOLOv5 based on transformer prediction head for object detection on drone-captured scenarios. In *Proceedings of the IEEE/CVF international conference on computer vision* (pp. 2778-2788).
[28] Zhai, X., Huang, Z., Li, T., Liu, H., & Wang, S. (2023). YOLO-Drone: an optimized YOLOv8 network for tiny UAV object detection. *Electronics*, *12*(17), 3664.
[29] Zhu, L., Liao, B., Zhang, Q., Wang, X., Liu, W., & Wang, X. (2024). Vision mamba: Efficient visual representation learning with bidirectional state space model. *arXiv preprint arXiv:2401.09417*.

[30] Wu, J., Dai, G., Zhou, W., Zhu, X., & Wang, Z. (2024). Multi-scale feature fusion with attention mechanism for crowded road object detection. *Journal of Real-Time Image Processing*, *21*(2), 29.

[31] Zheng, Z., Wang, P., Liu, W., Li, J., Ye, R., & Ren, D. (2020, April). Distance-IoU loss: Faster and better learning for bounding box regression. In *Proceedings of the AAAI conference on artificial intelligence* (Vol. 34, No. 07, pp. 12993-13000).

[32] Tong, Z., Chen, Y., Xu, Z., & Yu, R. (2023). Wise-IoU: bounding box regression loss with dynamic focusing mechanism. *arXiv preprint arXiv:2301.10051*.

[33] Han, K., Wang, Y., Tian, Q., Guo, J., Xu, C., & Xu, C. (2020). Ghostnet: More features from cheap operations. In *Proceedings of the IEEE/CVF conference on computer vision and pattern recognition* (pp. 1580-1589).

[34] Qin, D., Leichner, C., Delakis, M., Fornoni, M., Luo, S., Yang, F., ... & Howard, A. (2024, September). MobileNetV4: Universal models for the mobile ecosystem. In *European conference on computer vision* (pp. 78-96). Cham: Springer Nature Switzerland.

[35] Yuan, Y., Gao, S., Zhang, Z., Wang, W., Xu, Z., & Liu, Z. (2024). Edge-cloud collaborative UAV object detection: Edge-embedded lightweight algorithm design and task offloading using fuzzy neural network. *IEEE Transactions on Cloud Computing*, *12*(1), 306-318.

[36] Wang, P., Chen, G., & Sun, Z. (2024). Joint optimization of task offloading and resource allocation for uav-assisted edge computing: a stackelberg bilayer game approach. *IEICE TRANSACTIONS on Information and Systems*, *107*(9), 1174-1181.

[37] Osco, L. P., Wu, Q., De Lemos, E. L., Gonçalves, W. N., Ramos, A. P. M., Li, J., & Junior, J. M. (2023). The segment anything model (sam) for remote sensing applications: From zero to one shot. *International Journal of Applied Earth Observation and Geoinformation*, *124*, 103540.

[38] Sun, Y., Cao, B., Zhu, P., & Hu, Q. (2022). Drone-based RGB-infrared cross-modality vehicle detection via uncertainty-aware learning. *IEEE Transactions on Circuits and Systems for Video Technology*, *32*(10), 6700-6713.

[39] Sun, Y., Cao, B., Zhu, P., & Hu, Q. (2022). Drone-based RGB-infrared cross-modality vehicle detection via uncertainty-aware learning. *IEEE Transactions on Circuits and Systems for Video Technology*, *32*(10), 6700-6713.